XGS Energy

Clean. Low Cost. Round-the-Clock Energy. Everywhere. Forever.

XGS Supplemental Materials_CONFIDENTIAL

9 March 2026

XGS Project Pipeline by Geography

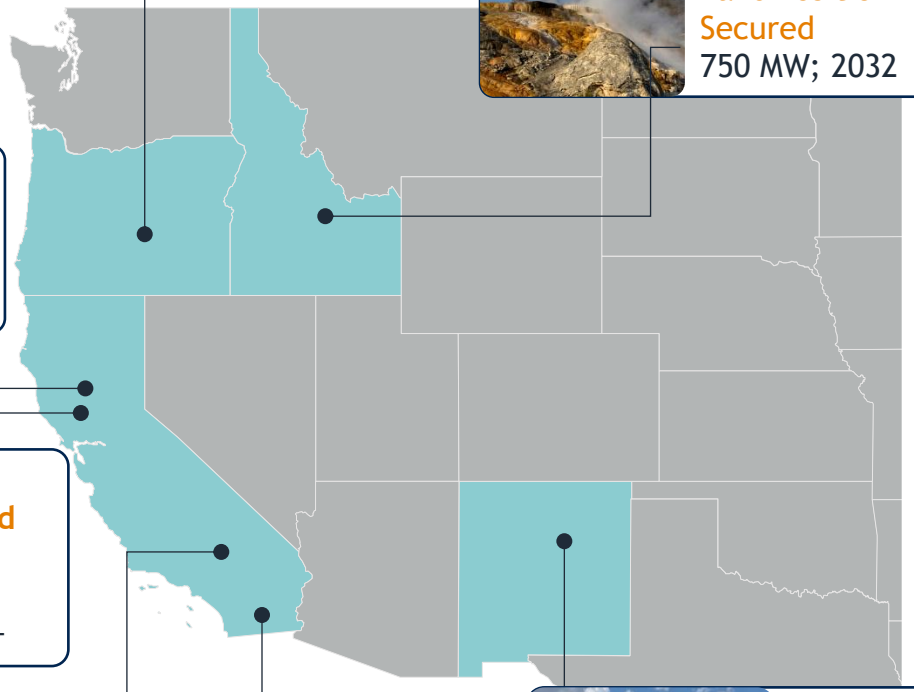

Oregon
2.1 GW
2031-2033+

White Cloud, ID
Land Position Secured
750 MW; 2032

Geysers Repower
800 MW
2027-2030+

Lake, CA
70MW Land Position & offtake
2028-2029+

Coso Repower
200 MW
2030

Imperial, CA
Land Position Secured
400 MW
2028-2030

Socorro, NM
150MW Phase 1, 750 MW
2.1 GW total
2027-2031+

KSA
7 GW
2030-2032+

Japan
5.5 GW
2033-2035

Manila
500 MW
2030-2032

Project Pipeline Overview

Project	County	Type	Capacity (MW)	Site Area (acres)	Site Type	FID	COD	Commercial
[Redacted] Phase 1	Socorro, NM	Proprietary development	150	8,936	Private	2027	2028	Binding hyperscaler offtake; IX queue
[Redacted] Phase 2	Socorro, NM	Proprietary development	600	8,936	Private	2028	2032	Hyperscaler offtake option
Red Hills Phase 1	Lake, CA	Proprietary development	70	641	Private	2027	2028	Binding offtake with LSE; IX queue
Red Hills Phase 2	Lake, CA	Proprietary development	100	2700	Private	2028	2029	Negotiating offtake
Imperial	Imperial, CA	Proprietary development	50	152	Private	2027	2028	Negotiating offtake; IX queue
White Cloud	Blaine, ID	Proprietary development	750	7,655	Federal	2028	2032	Negotiating offtake
Geysers Repower	Sonoma & Lake, CA	Co-development	800	28,447	Repower	2026	2029	Negotiating co-development
Lion Head	Imperial, CA	Proprietary development	300	2,329	Federal	2028	2029	Co-located data center
[Redacted]	Imperial, CA	Proprietary development	50	152	Private	2028	2029	Negotiating offtake
Coso Repower	Inyo, CA	Co-development	200	6,400	Repower	2027	2030	Proven prototype; negotiating co-development agreement
[Redacted]	[US West - Redacted]	Proprietary development	150	2,723	Private	2029	2030	Negotiating offtake
[Redacted]	Socorro, NM	Proprietary development	800	6,380	Private	2029	2033	Negotiating offtake
[Redacted]	Socorro, NM	Proprietary development	400	2,280	Private	2029	2031	Negotiating offtake
[Redacted]	[US West - Redacted]	Proprietary development	1500	9,494	Private	2028	2033	Negotiating offtake
[Redacted]	[US West - Redacted]	Proprietary development	600	5,961	Private	2029	2031	Negotiating offtake
TOTAL CONTRACTED			**185**	**-**				150 MW Socorro & 35 MW Red Hills Ph1
TOTAL[1]			**6,520**	**49,403**				

1. Total acreage excludes co-development project acreage

Proposed Entity Structure & Services

Seeking feedback on split structure vs single entity

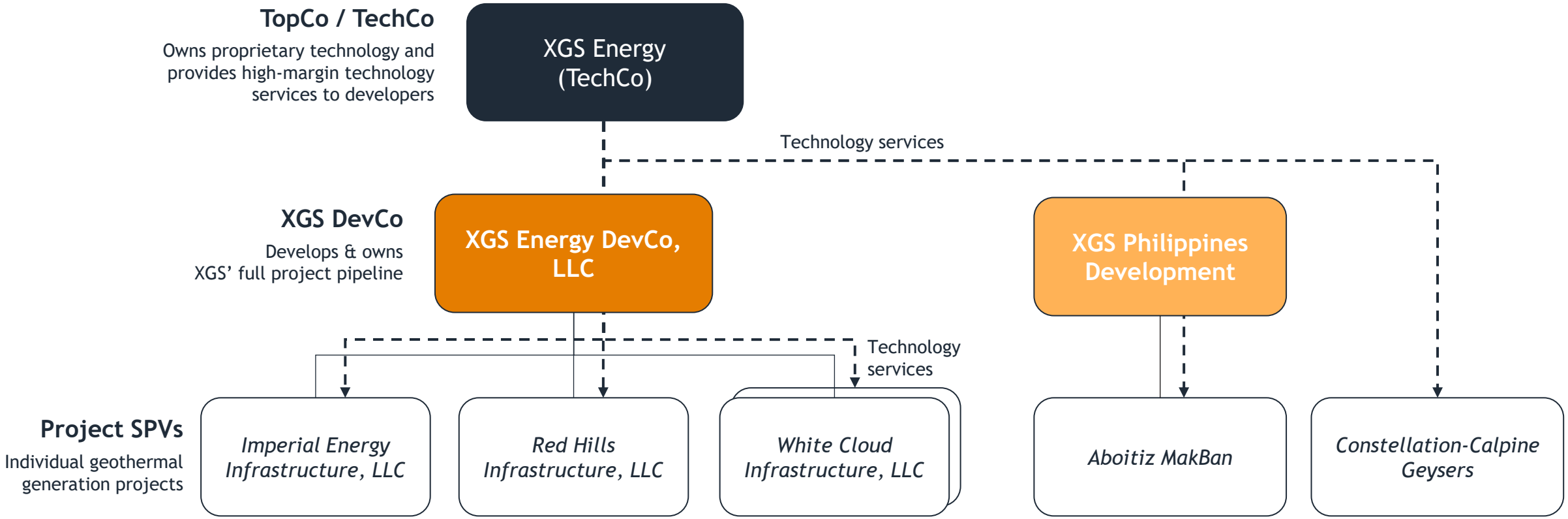

Illustrative XGS development projects, non-comprehensive

Enterprise Cashflow Projections

TopCo enterprise modelling assumptions:

Revenue = 4% EPC management fee on total capex

In practice, revenue split between EPC Management services pre-COD, post-COD LTSA, and post-COD licensing fees will be negotiated on a project-by-project basis

Expenses consist of 60% labor and 40% overhead (insurance, legal, etc)

Year		2026	2027	2028	2029	2030	2031	2032	2033	2034	2035
TOPCO											
TopCo Projects											
MW Reaching COD	MW	-	30	340	1,000	1,500	2,500	3,250	5,800	7,000	8,500
MW Operational	MW	-	30	370	1,370	2,870	5,370	8,620	14,420	21,420	29,920
Cash Flows											
Revenue	**$000**	**-**	**13,380**	**138,220**	**408,220**	**557,220**	**932,220**	**1,156,720**	**2,058,520**	**2,088,520**	**2,321,520**
Expenses	$000	(15,294)	(22,572)	(29,380)	(81,800)	(111,600)	(186,600)	(283,400)	(357,400)	(417,800)	(464,400)
Operating Profit	**$000**	**(15,294)**	**(9,192)**	**108,840**	**326,420**	**445,620**	**745,620**	**873,320**	**1,701,120**	**1,670,720**	**1,857,120**
Operating Profit Margin		*0.0%*	*0.0%*	*78.7%*	*80.0%*	*80.0%*	*80.0%*	*75.5%*	*82.6%*	*80.0%*	*80.0%*
R&D	$000	(3,722)	(3,995)	(5,185)	(5,703)	(6,274)	(6,901)	(7,591)	(8,350)	(9,185)	(10,104)
EBITDA Excl Projects		**(19,016)**	**(13,187)**	**103,655**	**320,717**	**439,346**	**738,719**	**865,729**	**1,692,770**	**1,661,535**	**1,847,016**
Non-Project EBITDA Margin		*0.0%*	*0.0%*	*75.0%*	*78.6%*	*78.8%*	*79.2%*	*74.8%*	*82.2%*	*79.6%*	*79.6%*
DevCo Project Expenses	$000	(4,702)	-	-	-	-	-	-	-	-	-
EBITDA Incl Projects		**(23,718)**	**(13,187)**	**103,655**	**320,717**	**439,346**	**738,719**	**865,729**	**1,692,770**	**1,661,535**	**1,847,016**
EBITDA Margin		*0.0%*	*0.0%*	*75.0%*	*78.6%*	*78.8%*	*79.2%*	*74.8%*	*82.2%*	*79.6%*	*79.6%*
Interest Expense	$000	(214)	(121)	(29)	-	-	-	-	-	-	-
Debt Drawdown / (Repayment)	$000	(1,500)	(1,500)	(750)	-	-	-	-	-	-	-
Net Cash Flow	**$000**	**(25,432)**	**(14,807)**	**102,876**	**320,717**	**439,346**	**738,719**	**865,729**	**1,692,770**	**1,661,535**	**1,847,016**
DEVCO											
DevCo Projects											
MW Operational	MW	-	30	270	870	1,870	4,370	7,120			
DevCo PPA Revenues	$000	-	29,959	247,163	752,975	1,556,214	3,636,714	5,925,264			

1. Project development expense borne by TopCo prior to DevCo formation

Project Model (Assumes 150MW; Socorro, NM)

Key Metrics

Project Details	
Capex & Devex ($m/MW)	9.98
Opex ($/kW/yr)	120
PPA Price ($/MWh)	120
PPA Duration (years)	15
ITC (%) [1]	50%
FMV Step-up (%)	30%

Returns Metrics	
Leverred after-tax IRR	**27.2%**
MOIC	8.6x
DSCR	1.81x
TEI Contribution Multiple	1.05x

Sources & Uses

Sources	%	$000
Sponsor Equity	*10.0%*	167,119
Tax Equity	*55.2%*	919,542
Debt	*34.8%*	580,000
Total		**1,666,661**

Uses	%	$000
Capex & Devex	*89.8%*	1,497,016
IDC	*6.2%*	103,111
Transaction Fees	*4.0%*	66,534
Total		**1,666,661**

(All values in $000)

Year from COD	Year 1	Year 2	Year 3	Year 4	Year 5	Year 6	Year 7	Year 8	Year 9	Year 10	Year 11	Year 12	Year 13	Year 14	Year 15
Year	2029	2030	2031	2032	2033	2034	2035	2036	2037	2038	2039	2040	2041	2042	2043
Operations															
Revenue	149,796	148,298	146,815	145,347	143,893	142,455	141,030	139,620	138,223	136,841	135,473	134,118	132,777	131,449	130,135
Opex	(18,000)	(18,180)	(18,362)	(18,545)	(18,731)	(18,918)	(19,107)	(19,298)	(19,491)	(19,686)	(19,883)	(20,082)	(20,283)	(20,486)	(20,691)
EBITDA	131,796	130,118	128,453	126,801	125,163	123,536	121,923	120,321	118,732	117,155	115,590	114,036	112,494	110,963	109,444
EBITDA Margin	*88.0%*	*87.7%*	*87.5%*	*87.2%*	*87.0%*	*86.7%*	*86.5%*	*86.2%*	*85.9%*	*85.6%*	*85.3%*	*85.0%*	*84.7%*	*84.4%*	*84.1%*
Debt Servicing															
Interest Expense	(46,400)	(44,288)	(42,082)	(39,773)	(37,352)	(34,810)	(32,136)	(29,319)	(26,348)	(23,210)	(19,890)	(16,374)	(12,645)	(8,686)	(4,478)
Debt Amortization	(26,394)	(27,579)	(28,866)	(30,263)	(31,779)	(33,423)	(35,205)	(37,137)	(39,230)	(41,498)	(43,953)	(46,611)	(49,488)	(52,602)	(55,971)
Net Cash Flow	59,002	58,251	57,505	56,766	56,032	55,304	54,582	53,865	53,153	52,447	51,747	51,051	50,361	49,676	48,995
DSCR	1.81x	1.81x	1.81x	1.81x	1.81x	1.81x	1.81x	1.81x	1.81x	1.81x	1.81x	1.81x	1.81x	1.81x	1.81x
Terminal Value															
Sale Price	-	-	-	-	-	-	-	-	-	-	-	-	-	-	875,553
Net Cash Flow to Equity Partners	59,002	58,251	57,505	56,766	56,032	55,304	54,582	53,865	53,153	52,447	51,747	51,051	50,361	49,676	924,548
Sponsor Cash Flow															
Tax Equity Investor Cash Share	(2,950)	(2,913)	(2,875)	(2,838)	(2,802)	(2,765)	(2,729)	(2,693)	(2,658)	(2,622)	(2,587)	(2,553)	(2,518)	(2,484)	(46,227)
Equity Sponsor Tax Expense	503	912	474	210	209	972	(17,912)	(18,155)	(18,431)	(18,742)	(19,092)	(19,484)	(19,920)	(20,404)	(20,941)
Equity Sponsor Returns	56,555	56,250	55,104	54,138	53,439	53,511	33,940	33,017	32,065	31,083	30,067	29,015	27,923	26,787	857,380

1. Includes Energy Community (Socorro, NM) and Domestic Content adders

Select Project Deep Dives

Socorro, New Mexico
Market: WECC (PNM)

INVESTMENT HIGHLIGHTS

Unlocking Untapped Socorro Resource Area

- Leading project opportunity in multi-GW resource area
- Customer has in-state expertise and influence with utility
- Strong state support for geothermal industry, including state Production Tax Credit, well-resourced permitting authority, new bills supporting large load / microgrid development
- Opportunity to be first-mover and capture untapped market

PROJECT OVERVIEW

Socorro, New Mexico

Project Details	
Investment entity	XGS Energy New Mexico, LLC
Project Size| COD	Phase 1: 30 MW | 2027 Phase 2: 150 MW | 2028 Phase 3 (same or multiple sites): 600 MW | rolling commissioning 2031
Offtake	
Marketing status	Partnership with hyperscalers for up to 750 MW; additional data center and utility (PNM, EPE) demand
Engineering	
Resource evaluation	Attractive 75-80°C/km thermal gradient identified by resource evaluation at target sites along Rio Grande Rift and Southern Basin
EPC	Signed agreements with Baker Hughes and Vallourec
Site Control	
Surface acquisition	~15,000 acres across multiple sites
Subsurface acquisition	Mineral estate for ca. 9000 AC, advancing acquisition of remainder from State Land Office
Permitting	
Zoning status	Limited zoning requirements in focus region
Permitting outlook	Strong coordination with EMNRD (subsurface regulator) and PRC (surface plant approvals for generators >300 MW)
Power Delivery	
Target settlement point	PNM Hidden Mountain 345 kV (under construction) or Tom Wray 345 kV (planned)



INVESTMENT HIGHLIGHTS

Capturing Massive Geothermal Potential South of Salton Sea

- Initial project opportunity in multi-GW resource area
- Well-characterized geothermal area with extensive well data
- Business-friendly community focused on economic development
- Favorable zoning conditions and optimistic path to permit
- Flat, clear landscape conducive to generation + load projects
- Landowners well-respected members of local ag community

PROJECT OVERVIEW

Imperial

Project Details	
Project Co	Imperial Energy Infrastructure, LLC
Project Size| COD	50 MW | 2028
Site Control	
Surface	Executed option to purchase 152 acres from two private landowners.
Minerals	Ownership confirmed via back-to-patent title search for 100% of boundary.
Engineering	
Modeled Temperature	92°C at 1 km
Data Availability	Modeling supported by a high amount of existing data.
Permitting	
Zoning status	Geothermal permittable under current zoning.
Surface Permitting	Imperial County to act as lead agency for CEQA.
Subsurface Permitting	CalGEM to act as lead agency for permitting the geothermal wells.
Power Delivery	
POI	92 kV line with direct access to Midway 230 kV Substation (IID).
Interconnection status	Secured queue position with IID, filed in Jan 2026 cluster.
Transmission	Attractive rates for firm point to point transmission to CAISO.
Offtake	
Status	Ongoing negotiations; 200+ MW of offtake interest from San Diego area utilities, exporting from IID to CAISO.



INVESTMENT HIGHLIGHTS

Capturing Massive Geothermal Potential South of Salton Sea

- Expansion opportunity in multi-GW resource area
- Well-characterized geothermal area with extensive well data
- Business-friendly community focused on economic development
- Favorable zoning conditions and optimistic path to permit
- Flat, clear landscape conducive to generation + load projects
- Infrastructure to support data centers and other co-location

PROJECT OVERVIEW

Lion Head

Project Details	
Project Co	Lion Head Energy, LLC
Project Size| COD	Phase 1: 300 MW | 2030
Site Control	
Surface	Executed lease agreements for 2,329 acres with BLM.
Minerals	BLM ownership assumed for 100% of boundary.
Engineering	
Modeled Temperature	84°C at 1 km
Data Availability	Modeling supported by a moderate amount of existing data.
Permitting	
Zoning status	Geothermal development rights secured via BLM lease sale.
Surface & Subsurface Permitting	BLM is lead agency for all permitting processes. Eligible for FAST-41 project permitting & accelerated NEPA permitting under National Energy Emergency EO.
Power Delivery	
POI	Flowing Waters 230kV Substation (IID) (planned) Midway 230kV Substation (IID)
Interconnection status	Application to be filed with IID in Jan 2027 cluster, in discussion with IID to support net-impact BTM interconnection filing
Offtake	
Status	Coordinating with immediately adjacent data center site for BTM co-located development. Alternative option with 200+ MW of offtake (FTM) interest from San Diego area utilities, exporting from IID to CAISO.

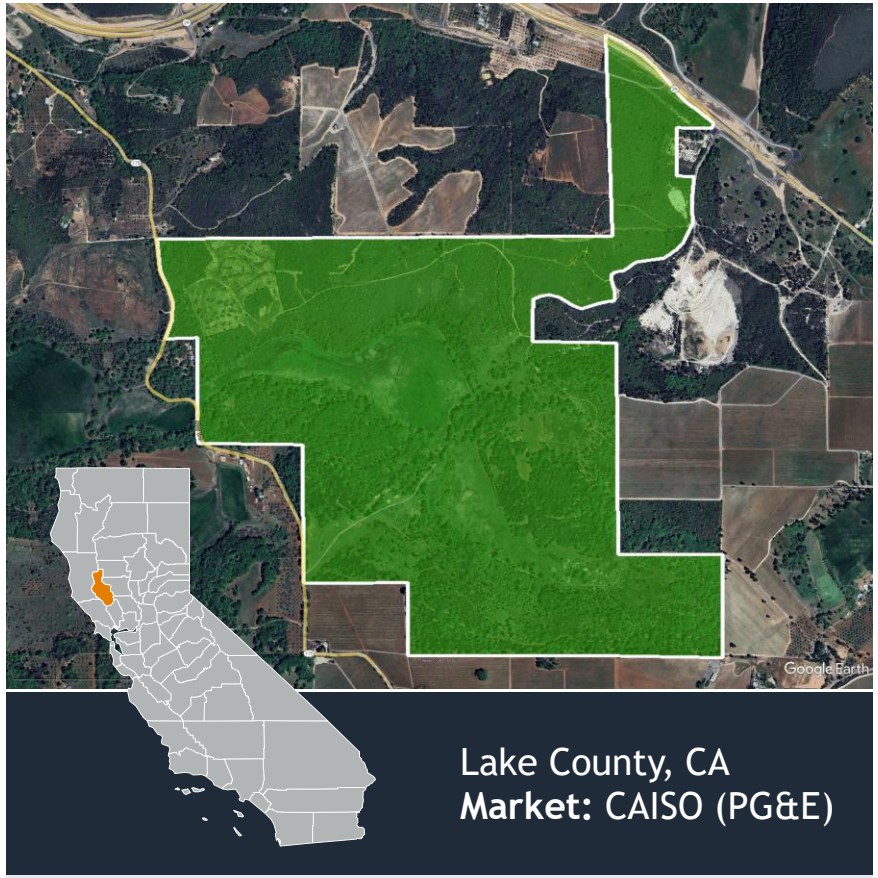

Lake County, CA
Market: CAISO (PG&E)

INVESTMENT HIGHLIGHTS

Expanding Geothermal Generation North of the Geysers

- Initial project opportunity in multi-GW resource area
- Well-characterized geothermal area with extensive well data
- Unique site in wine country adjacent to operating quarry
- Access to PG&E distribution and transmission infrastructure
- LSE offtaker willing to take delivery at CAISO node
- Opportunities for load customer co-location

PROJECT OVERVIEW

Red Hills Phase 1

Project Details	
Project Co	Red Hills Infrastructure, LLC
Project Size| COD	70 MW | 2028
Site Control	
Surface	Executed lease option agreement for 641 acres with private landowner.
Minerals	Ownership confirmed via back-to-patent title search for 87% of boundary.
Engineering	
Modeled Temperature	102°C at 1 km
Data Availability	Modeling supported by a high amount of existing data.
Permitting	
Zoning status	Geothermal allowed in RL zoning via Major Use Permit process.
Surface Permitting	Lake County to act as lead agency for CEQA.
Subsurface Permitting	CalGEM to act as lead agency for permitting the geothermal wells.
Power Delivery	
POI	Konocti 60 kV Substation (PG&E)
Interconnection	Pursuing 12-24 MW WDT interconnection directly with PG&E. Submitting full 70 MW application to CAISO in Oct 2026 (Cluster 16).
Transmission	Advancing CAISO deliverability requirements with strategic offtakers. Project eligible for highest possible prioritization in new load-serving entity points allocation system being used for CAISO Cluster 16.
Offtake	
Status	Binding terms executed for 35 MW offtake with load-serving entity. Negotiating offtake for full project capacity

INVESTMENT HIGHLIGHTS

Expanding Geothermal Generation North of the Geysers

- Expansion opportunity in multi-GW resource area
- Well-characterized geothermal area with extensive well data
- Unique site opportunities in wine country
- Access to PG&E transmission infrastructure
- Motivated offtakers willing to take delivery at CAISO nodes
- Opportunities for load customer co-location

PROJECT OVERVIEW

Red Hills Phase 2

Project Details	
Entity	One or more subsidiaries to be formed under XGS Energy DevCo.
Project Size| COD	100 MW | 2030
Offtake	
Marketing status	3X oversubscribed demand from CAISO load serving entities and hyperscaler; negotiations pending site control.
Engineering	
Resource evaluation	Proven resource with high data availability, attractive thermal gradients.
Site Control	
Surface	Land campaign underway to secure 2,700+ new acres in close proximity to Red Hills Phase 1.
Subsurface	Prioritizing sites with mineral estates intact, to be verified via title search.
Permitting	
Zoning status	Majority of area within KGRA (known geothermal resource area) with preferential zoning.
Permitting path	Pending site control to initiate permitting activities.
Power Delivery	
Interconnection	Target existing 60 kV and 115 kV infrastructure in area.
Transmission & deliverability	Advancing CAISO deliverability requirements with strategic offtakers. Project eligible for highest possible prioritization in new load-serving entity points allocation system being used for CAISO Cluster 16.

Lake/Sonoma, CA
Market: CAISO (PG&E)

INVESTMENT HIGHLIGHTS

Brownfield Speed to Power Play in Premium Market

- Deploy XGS technology at legacy plant to re-up to nameplate after decades of degradation
- Existing site control, interconnection, deliverability, and offtake
- Sites already permitted for geothermal can be repurposed
- Opportunity to advance faster than with greenfield projects
- Building on existing relationships and community support

PROJECT OVERVIEW

Geysers Repower

Project Details	
Entity	Constellation-Calpine Geysers ProjectCo under technology services agreement with XGS Energy Inc.
Project Size| COD	800 MW | 2028-2030 rolling commissioning
Offtake	
Marketing status	Leverage existing interconnection, deliverability, and PPA structures. Critical asset for maintaining reliability and resilience of CA Bay Area load pocket.
Engineering	
Resource evaluation	Proven resource with high data availability, attractive 80-100°C/km thermal gradients.
Site Control	
Surface	Current asset owners control approximately 29,000 acres in Lake County and Sonoma County.
Subsurface	Minerals have been utilized since plants came online in the 60s-80s.
Permitting	
Zoning status	Area zoned for geothermal development and power generation.
Permitting path	Since site is a KGRA and already permitted for geothermal construction & operations, new wells can be permitted through rapid <90-d process.
Power Delivery	
Interconnection	Surplus interconnection behind existing POIs.
Transmission & deliverability	Existing CAISO deliverability.

Clean.
Low Cost.
Round-the-Clock Energy.
Everywhere.
Forever.

XGSENERGY.COM

XGS ENERGY